THE END OF SILOED RESPONSE

How Unified Public Safety Platforms Are Replacing Fragmented Systems

A KABATONE INDUSTRY BRIEF | 2026

40+	70M+	NG911
CITIES DEPLOYED	CITIZENS PROTECTED	READY

CONTENTS

EXEC SUMMARY	Why the Fragmented Model Is Failing	3
HOOK	The $3 Billion Market Signal	4
CH 01	Why Systems Were Always Siloed	6
CH 02	The Operational Cost of Fragmentation	8
CH 03	The Convergence Signals — Acquisitions & Market	10
CH 04	The Standards Foundation	12
CH 05	What Unified Response Actually Requires	13
CH 06	Diagnosing Your Current Architecture	15
CH 07	KabatOne Mapped to the Convergence Stack	16
CH 08	LATAM at the Inflection Point	19
CH 09	Building the Business Case	21
CH 10	Questions to Ask Any Unified Platform Vendor	23
CLOSING	The Agencies That Act Now	24

WHY THE FRAGMENTED MODEL IS FAILING

The era of disconnected video, dispatch, GIS, and access control is ending. This brief explains why — and what comes next.

THE ILLUSION OF CONNECTED FRAGMENTATION — TECHNICAL INTEGRATION VS. OPERATIONAL UNIFICATION

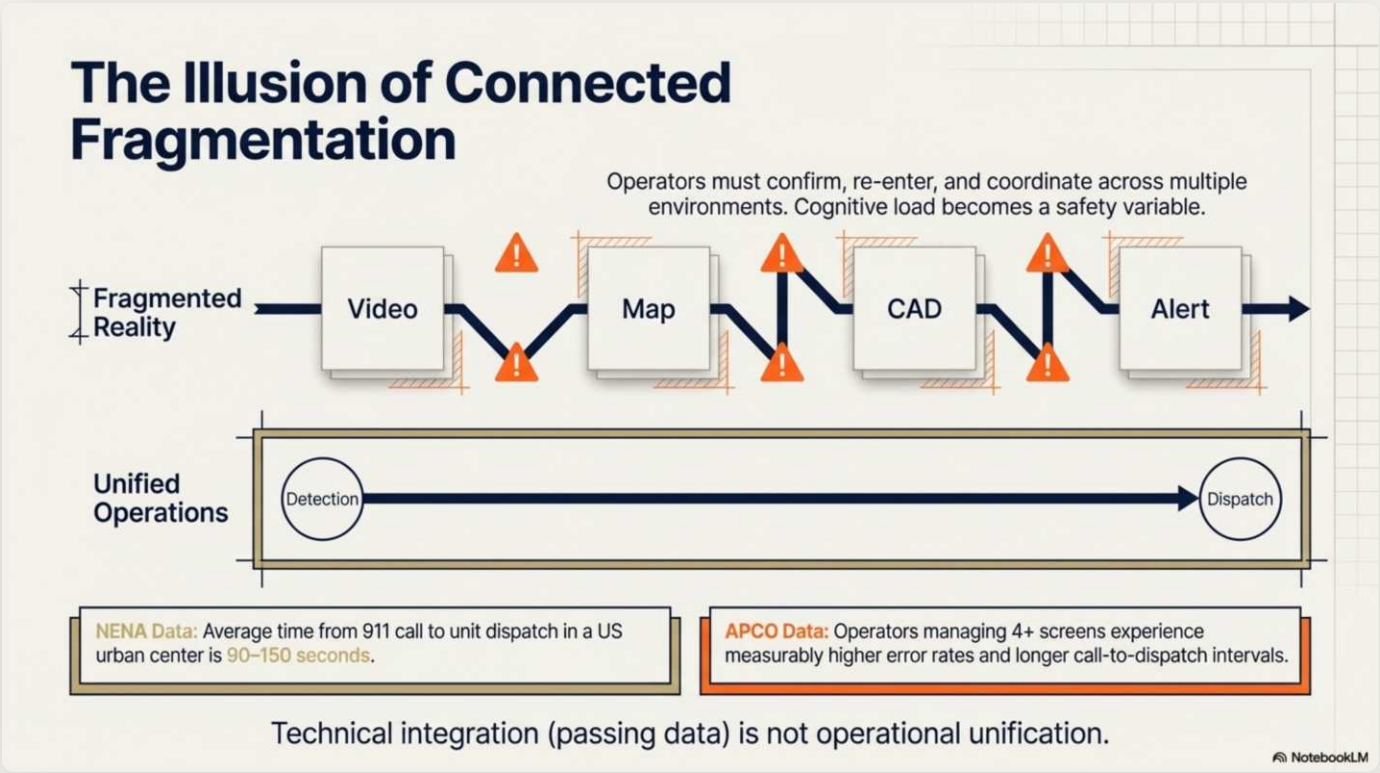

SOURCE: KABATONE RESEARCH · THE END OF SILOED RESPONSE · 2026

In Q1 2026, Axon acquired Carbyne — a next-generation 911 call-handling platform — for **$625 million**. Motorola Solutions has spent more than **$3 billion** acquiring public safety technology companies over the past decade. Hexagon absorbed Intergraph for **$2.125 billion**. These are not isolated bets. They are a structural signal: the era of fragmented public safety systems is ending.

For decades, governments managed emergencies through disconnected systems — video management, access control, computer-aided dispatch, and physical security information management all running in separate silos. Operators switched between screens, duplicated data, and lost critical seconds at the moments that mattered most.

CORE ARGUMENT

The question is no longer whether to unify. It is how quickly each agency gets there — and on whose terms. Agencies that define their technology strategy now will choose a platform that fits their environment. Agencies that wait will find their choices shaped by consolidation decisions of global vendors whose primary design context is not LATAM.

KabatOne was designed natively for this moment — not assembled through acquisition. This document explains why the shift is happening, what it requires, and how agencies can build the business case for unified response.

40+	70M+	40%	60%
CITIES	CITIZENS PROTECTED	FASTER RESPONSE	FASTER RESOLUTION

THE $3 BILLION MARKET SIGNAL

Axon. Motorola. Hexagon. Three global vendors. Billions spent. One shared thesis: integrated platforms have replaced point solutions as the standard for public safety.

$3B

THE $3 BILLION MARKET SIGNAL — MOTOROLA, AXON, AND HEXAGON ASSEMBLING THE UNIFIED STACK

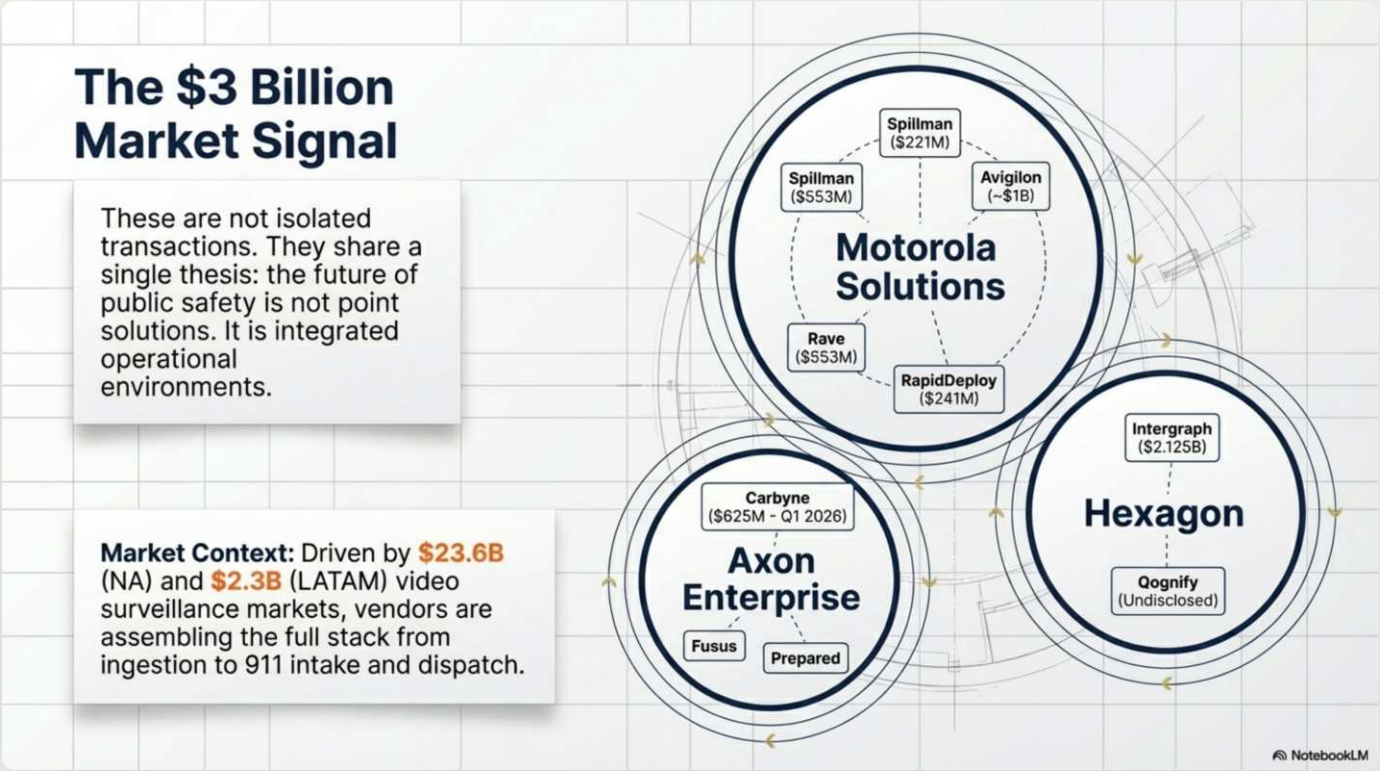

SOURCE: KABATONE RESEARCH · THE END OF SILOED RESPONSE · 2026

On a morning in early 2026, Axon Enterprise announced it had acquired Carbyne, one of the leading next-generation 911 call-handling platforms, for **$625 million**. The deal closed in Q1 2026 and immediately became the most discussed transaction in the public safety technology market.

Motorola Solutions had spent the previous decade systematically acquiring the components of a unified public safety stack: Spillman Technologies (CAD, $221M), Avigilon (video, ~$1B), Rave Mobile Safety (mass notification, $553M), RapidDeploy (cloud CAD, $241M). Hexagon had done the same, beginning with Intergraph ($2.125B) and extending into video analytics with Qognify. Axon, already owning Fusus (real-time crime centers) and Prepared (AI-assisted dispatch), added Carbyne to close the loop from field devices to 911 intake.

These acquisitions share a common thesis: the future of public safety is not point solutions. It is integrated operational environments where video, dispatch, GIS, AI, and field response work as one.

CATEGORY SHIFT

The vendors who arrived at this conclusion spent billions to build what the market is demanding. KabatOne was built this way from the start. This is not a product race. It is a category shift. For government agencies evaluating their infrastructure today — in Mexico, Peru, across Latin America, and in the United States — the strategic question is not whether to unify, but when, and how.

WHY SYSTEMS WERE ALWAYS SILOED

Four technology lineages. Four decades. Four disconnected tracks — each optimized for a specific function and never designed to work together.

THE FOUR ERAS OF PUBLIC SAFETY TECHNOLOGY

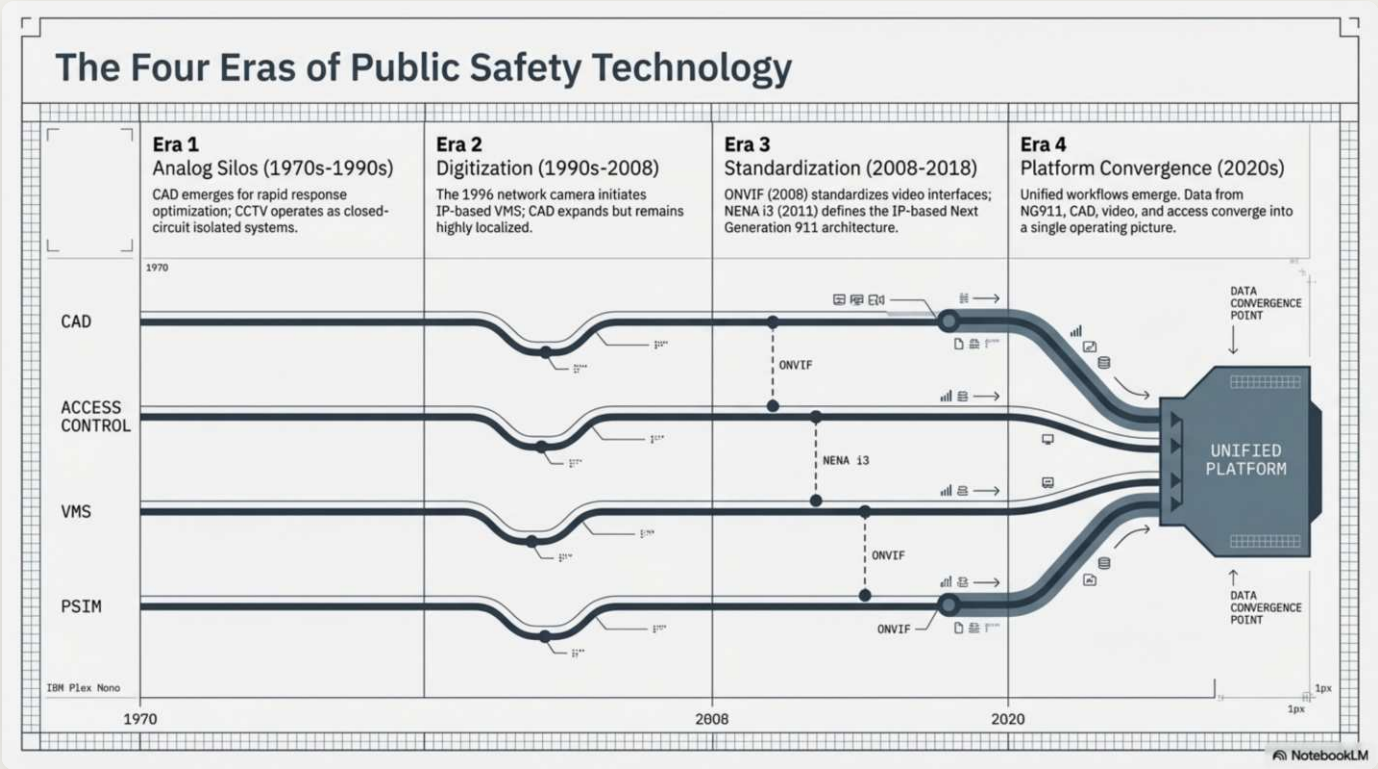

SOURCE: KABATONE RESEARCH · THE END OF SILOED RESPONSE · 2026

The answer is not poor planning. It is the natural consequence of how the technology evolved. Each category emerged from a different engineering lineage, in a different decade, optimized for a different function.

FIGURE 1 — THE FOUR TECHNOLOGY LINEAGES (1970-2020)

1970s-1990s	1980s-2000s	1990s-2000s	2000s-2010s
CAD	**ACCESS**	**VMS**	**PSIM**
Call intake, unit dispatch, incident logging. Built for telephone + radio. No GIS or video integration.	Badging, perimeter, entry logs. Facilities management problem — not public safety operations.	Video capture, storage, playback. Optimized for codec efficiency — not dispatch or GIS integration.	Aggregation layer for the other three. Surfaces information — does not coordinate response.

Each lineage remains a separate track through 2020 — disconnected by design, not by accident

VIDEO MANAGEMENT (VMS) — 1990S-2000S

Early VMS vendors — Milestone, Genetec, Avigilon — built software optimized for video ingestion, recording, and playback. They were not designed to share data with dispatch systems or GIS layers. Video was a recording tool, not an operational layer.

COMPUTER-AIDED DISPATCH (CAD) — 1970S-1990S

CAD is the operational backbone of emergency response, built around telephone-based call intake and radio dispatch. The core data model — incident type, unit ID, location, timestamp — was designed for a world without IP cameras, GPS tracking, or real-time GIS overlay.

ACCESS CONTROL & PSIM

Access control emerged from building security and facilities management — rarely a public safety operations priority. PSIM emerged as an aggregation layer for the other three, but it surfaces information rather than coordinating response. PSIM deployments were notoriously expensive, brittle, and slow to adapt.

The result: an operational environment built from independent tracks. Each category had its own vendors, data formats, operator interfaces, and procurement cycle. They were never designed to work together — and in most agencies today, they still do not.

THE OPERATIONAL COST OF FRAGMENTATION

A command center operator managing four simultaneous screens during a critical incident. Each system shows a piece of the picture. None show the full picture.

02

ARCHITECTURE OF DELAY — FOUR SCREENS, ZERO SHARED CONTEXT

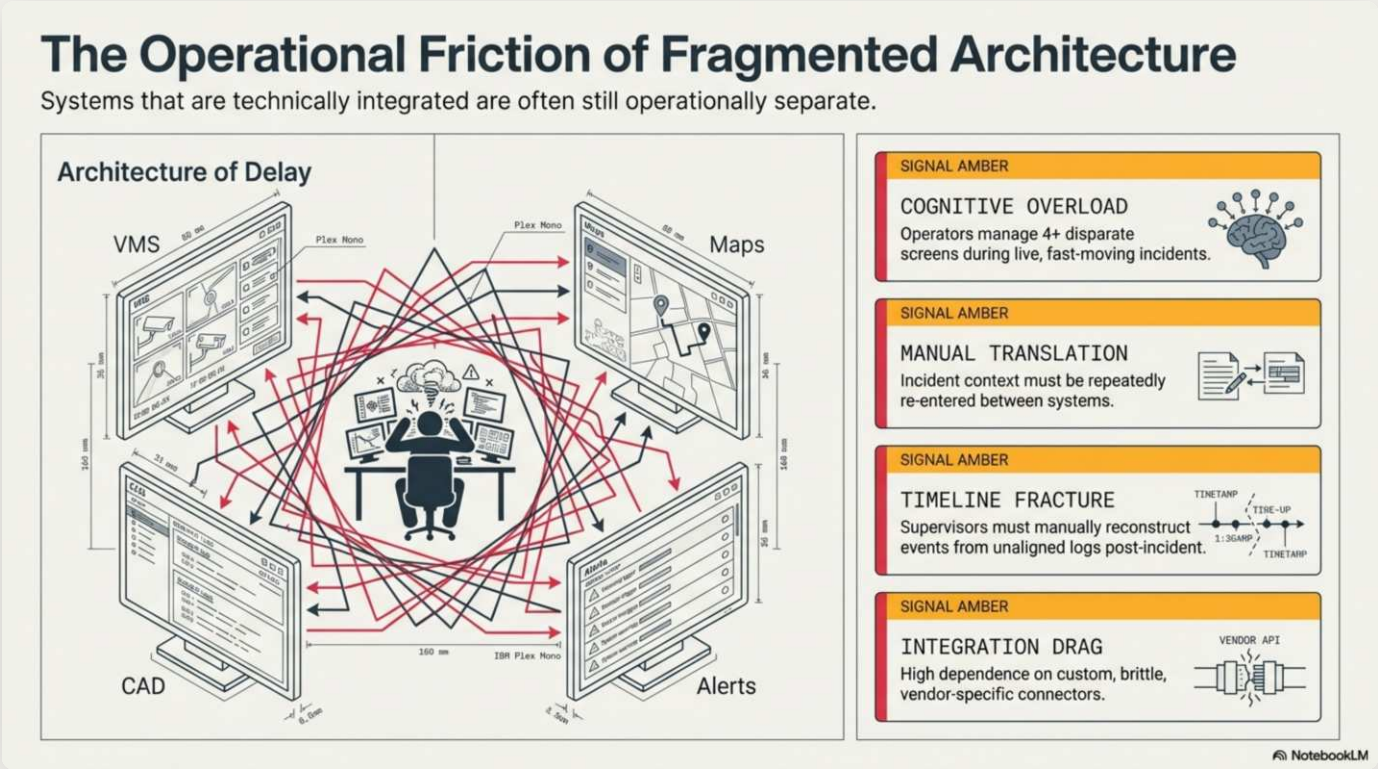

SOURCE: KABATONE RESEARCH · THE END OF SILOED RESPONSE · 2026

FIGURE 2 — THE MULTI-SCREEN REALITY: WHAT A TYPICAL OPERATOR MANAGES

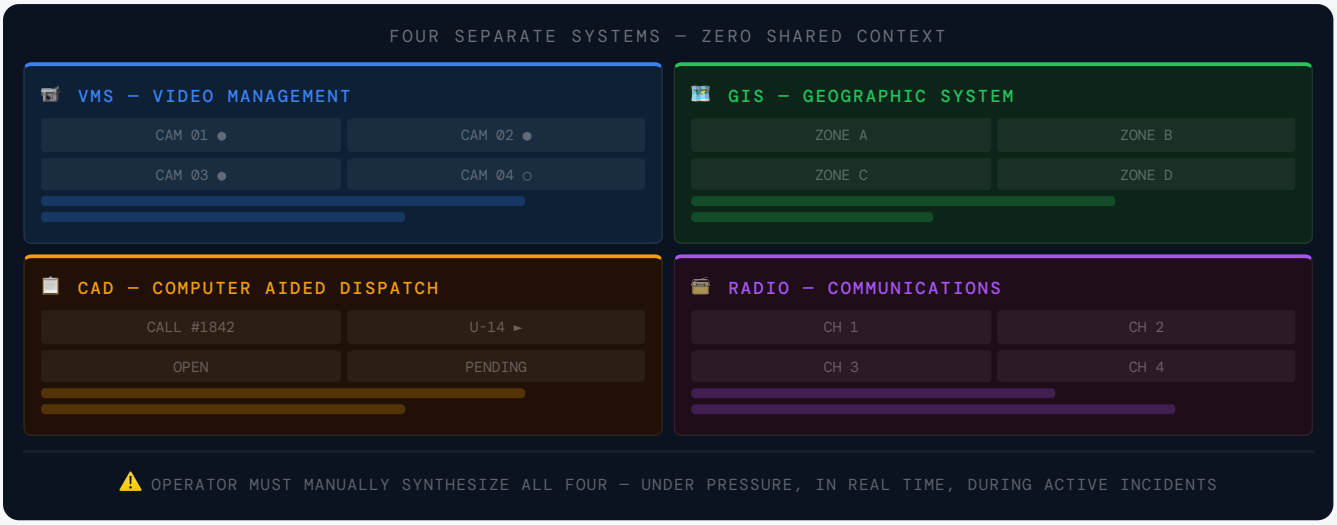

THE DISPATCH GAP

According to NENA data, the average time from a 911 call to unit dispatch is between **90 and 150 seconds** in a typical U.S. urban center. A significant portion is spent on data entry — not decision-making. APCO has documented that telecommunicators managing **four or more simultaneous screens experience measurably higher error rates** and longer call-to-dispatch intervals than those operating from a unified interface.

THE HANDOFF PROBLEM

When a camera feed shows a developing incident, the operator must: identify it on the VMS, locate the address on a separate GIS tool, open the CAD system, create a new incident record, manually enter location and incident type, assign a unit, and initiate radio contact. Each handoff is a friction point. Each friction point introduces delay measured in outcomes — not seconds.

THE AUDIT AND COMPLIANCE COST

After an incident, reconstructing a timeline from four separate systems — each with its own export format — is time-consuming, error-prone, and legally problematic. NG911 Phase II mandates and NIEM-based data sharing requirements assume agencies can produce integrated, timestamped records of incident lifecycle. Fragmented architectures make this significantly harder to achieve.

THE CONVERGENCE SIGNALS

Acquisitions totaling more than $7 billion. A category shift documented in real transactions. Every major vendor betting on the same thesis.

03

THE MULTI-BILLION DOLLAR CATEGORY SHIFT — ACQUISITION SPEND BY CAPABILITY

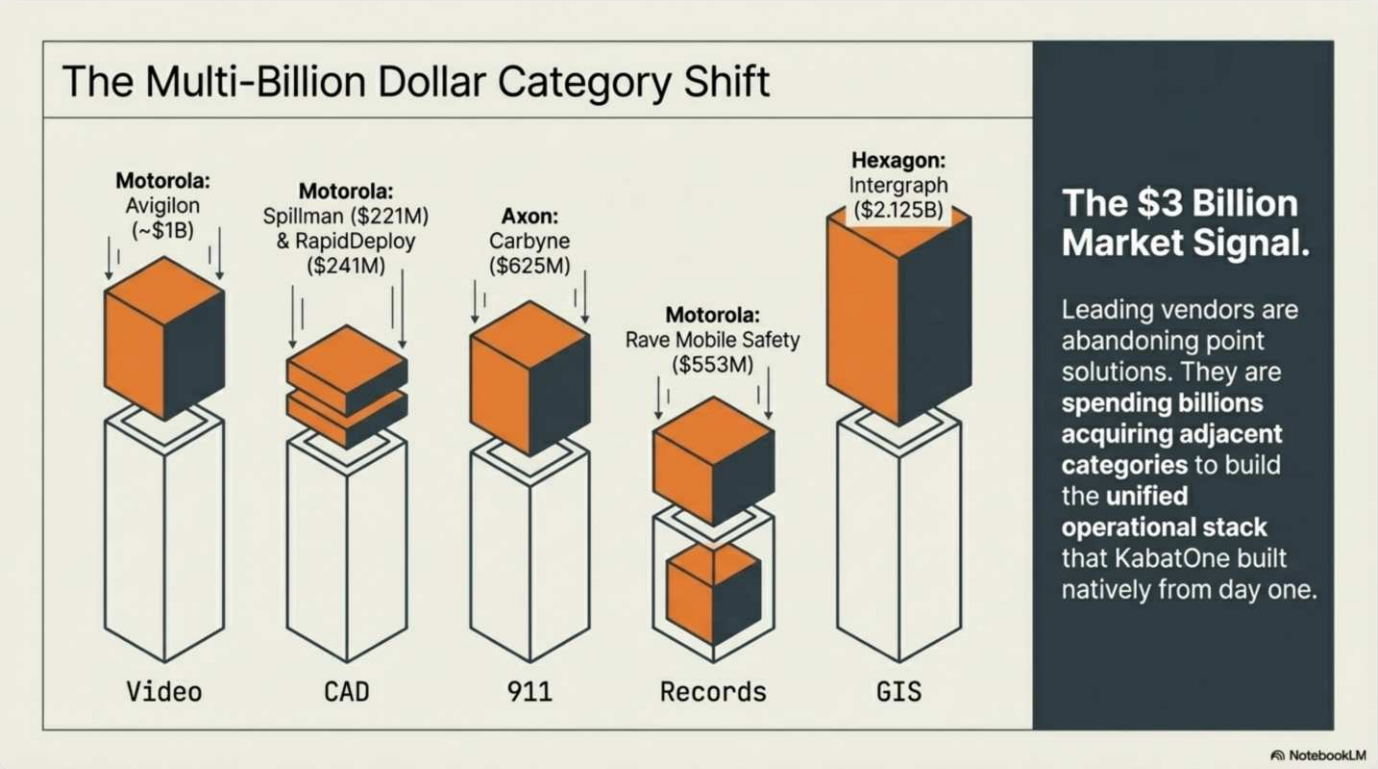

SOURCE: KABATONE RESEARCH · THE END OF SILOED RESPONSE · 2026

The acquisition activity of the past decade is the clearest market signal that unified platforms are the direction. These are not opportunistic bets — they reflect a deliberate strategy to assemble the full stack: video, 911 intake, CAD dispatch, field comms, and AI analytics.

FIGURE 3 — M&A ACTIVITY BY VENDOR (2010-2026)



MARKET SIZE — THE OPPORTUNITY

SEGMENT	NORTH AMERICA (2024)	LATIN AMERICA (2024)
Video Surveillance	**$23.6 billion**	$2.3 billion
Video Management Software	$4.1 billion	$654 million
Physical Access Control	$3.5 billion	$501 million

Global vendors are increasingly present in LATAM, but their platforms were built for North American regulatory environments and procurement models. The gap between what they offer and what LATAM governments need — integration flexibility, language support, local deployment expertise — remains significant.

THE STANDARDS FOUNDATION

NIEM. OASIS EDXL. ONVIF. The technical conditions for true interoperability are already in place. What agencies build on top of them determines whether they lead or follow.

04

THE STANDARDS FOUNDATION — NIEM, ONVIF, NENA I3, OASIS EDXL

The Standards Foundation

NIEM
(National Information Exchange Model)

Common data model for incident records and location data without custom translation layers.

ONVIF
(Profiles S, T, M, G)

The de facto standard for IP cameras. 500+ members, 30,000+ conformant products.

NENA i3
(NG911)

The standard for IP-based multimedia call handling (video/text to 911).

OASIS EDXL

Standard message formats for emergency alerts and cross-agency resource messaging.

> Standards have reduced the technical excuse for silos. Agencies no longer have to choose between operational flexibility and technical order. Open integration is now a baseline expectation.

NotebookLM

SOURCE: KABATONE RESEARCH · THE END OF SILOED RESPONSE · 2026

Three standards frameworks define the technical foundation for unified response. Agencies and vendors that build to these standards can interoperate across any combination of equipment. Those that do not become permanent integration problems — and compliance liabilities as NG911 Phase II mandates become enforceable.

STANDARD	GOVERNS	WHAT IT ENABLES	STATUS
NIEM	Data exchange model	Incident records, unit IDs, location data flow across agencies without custom translation	Required for federal/multi-state frameworks
OASIS EDXL	Emergency alerting	Structured message formats for alerts, resource messaging, situation reports across platforms	Multi-agency response requirement
ONVIF Profile S	Live video streaming	Any camera streams to any VMS without proprietary drivers	De facto standard
ONVIF Profile T	Advanced video	PTZ control, motion detection, video analytics triggers	De facto standard
ONVIF Profile M	Metadata & AI	AI analytics output exposed as structured metadata	Emerging standard
NENA i3	NG911 call intake	Text, video, and data alongside voice — multi-agency data sharing	Phase II mandate

STRATEGIC IMPLICATION

These three frameworks define a common data model (NIEM), a common alerting format (EDXL), and a common video interface (ONVIF). Agencies that build procurement requirements around these standards protect themselves from vendor lock-in and ensure interoperability as their infrastructure evolves. KabatOne is built natively to all of them.

WHAT UNIFIED RESPONSE ACTUALLY REQUIRES

Not all platforms marketed as unified are genuinely integrated. Five primitives separate real unification from better-designed aggregation.

05

UNIFIED RESPONSE WORKFLOW — DETECTION TO RESOLUTION

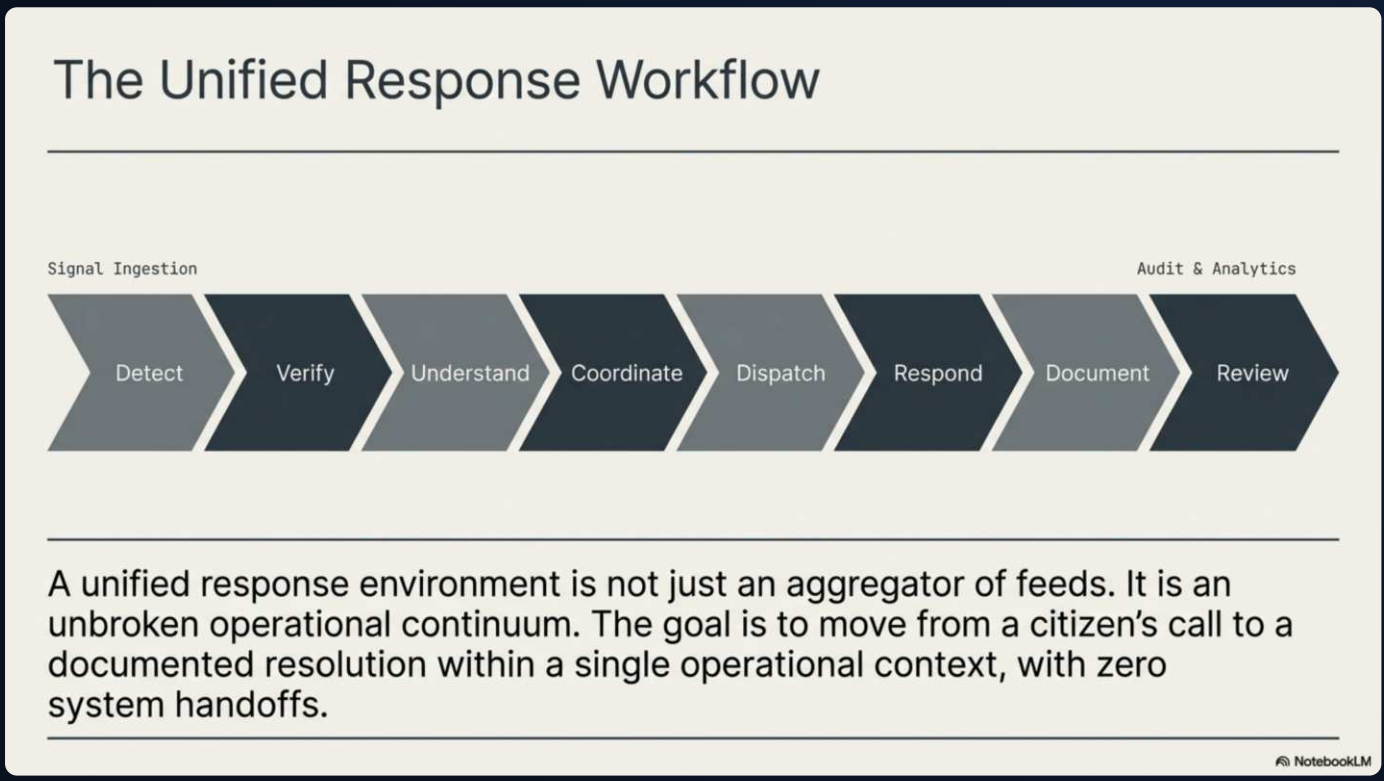

SOURCE: KABATONE RESEARCH · THE END OF SILOED RESPONSE · 2026

FIGURE 4 — THE UNIFIED RESPONSE WORKFLOW: DETECTION TO RESOLUTION

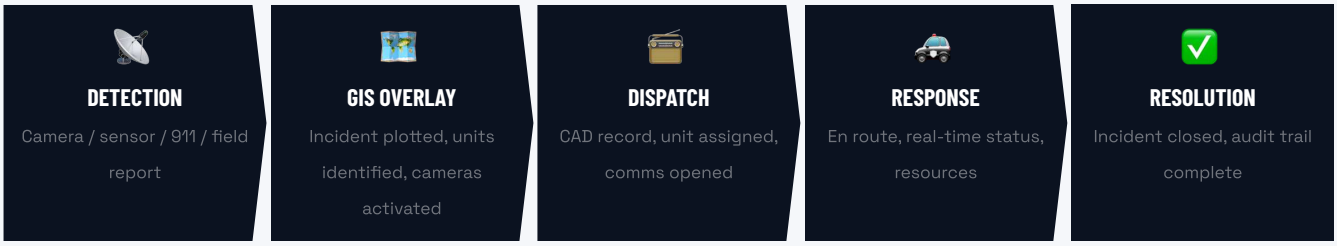

1. VIDEO INGESTION AT SCALE

Connect cameras from any manufacturer via ONVIF — no proprietary VMS license per ecosystem. Handle live feeds, recorded footage, AI-generated alerts, and mobile video from field devices in a single interface. Video that must be toggled to manually is not integrated — it is adjacent.

2. REAL-TIME GIS OVERLAY

Every incident, unit, camera, and sensor must be geolocated and displayed on a common operational map. The GIS layer is not a reporting tool — it is the operational canvas on which command decisions are made. Dispatching a unit without knowing where it is relative to the incident and other units is a coordination failure by design.

3. CAD CONNECTIVITY AND NG911 COMPLIANCE

A platform that shows video and GIS but cannot initiate or receive CAD workflow is not a unified response environment — it is a monitoring environment. NG911 compliance (NENA i3) ensures participation in next-generation emergency communication networks including text-to-911, video-to-911, and multi-agency data sharing.

4. AI ANALYTICS EMBEDDED IN WORKFLOW

Object detection, crowd density analysis, license plate recognition — these are only useful if they surface actionable alerts within the command workflow, attached to the relevant GIS location and video feed, with the ability to initiate dispatch. AI that outputs to a separate alert dashboard is one more screen to monitor.

5. OPEN ARCHITECTURE — INTEGRATION, NOT REPLACEMENT

A genuine unified platform connects to existing cameras via ONVIF, integrates with existing CAD via standard APIs, and provides a migration path rather than a migration mandate. A platform that demands rip-and-replace is not a platform — it is a vendor lock-in strategy.

DIAGNOSING YOUR CURRENT ARCHITECTURE

Eight questions designed to surface the operational and compliance cost of fragmentation in concrete terms — before any procurement conversation begins.

06

IS YOUR ENVIRONMENT STILL SILOED? — FRAGMENTED ARCHITECTURE VS. UNIFIED PLATFORM

Is Your Environment Still Siloed?

	Fragmented Architecture	Unified Platform (KabatOne)
Operator Interfaces	4+ separate systems	1 unified environment
Call-to-Dispatch Time	90–150 seconds (NENA baseline)	Reduced by 40%
Audit Trail	Manual correlation across systems	Automatic, timestamped, integrated
Time to Common Operating Picture	Hours or days	Within 72 hours of go-live
Vendor Contracts	4+ separate maintenance contracts	Single unified platform

If your operators are manually re-entering incident context between screens, the issue is not usability—it is architectural fragmentation.

NotebookLM

SOURCE: KABATONE RESEARCH · THE END OF SILOED RESPONSE · 2026

Answer these honestly before any procurement conversation. Each "no" or "not easily" is a quantifiable operational liability.

01 **How many separate interfaces** does an operator manage during a critical incident? If three or more, each is a coordination gap.

02 **What is your current call-to-dispatch time**, and how much of it is data entry — not decision-making?

03 **When a camera alert occurs, how many manual steps** does it take to create a CAD record? Each step is a delay that compounds under volume.

04 **Can your agency produce a complete timestamped incident lifecycle record** from four separate systems in under 30 minutes? If not, you have an audit liability.

05 **Are your video, GIS, and dispatch systems from different vendors** with separate contracts, maintenance cycles, and operator training programs?

06 **How long does it take to onboard a new operator** to full proficiency across all systems? Fragmented environments have measurably longer ramp times.

07 **Does your current architecture support NG911 Phase II** requirements — text, video, and data alongside voice call intake?

08 **Can you share structured incident data with partner agencies** in NIEM-compatible formats without a manual export process?

INTERPRETATION

If three or more of these answers are "no" or "not easily," fragmentation is your operational liability — not a future risk. It is a current cost distributed across training, overtime, integration maintenance, and incident reconstruction. The business case for unification starts here.

KABATONE MAPPED TO THE CONVERGENCE STACK

Built natively as a unified response platform — not assembled through acquisition. Each module addresses a specific operational domain while sharing one data layer, one GIS canvas, one workflow engine.

07

K-VIDEO — LIVE SURVEILLANCE & AI ANALYTICS

Layer 1: Detection & Intake

Ingesting signals from every channel into one operational pipeline.

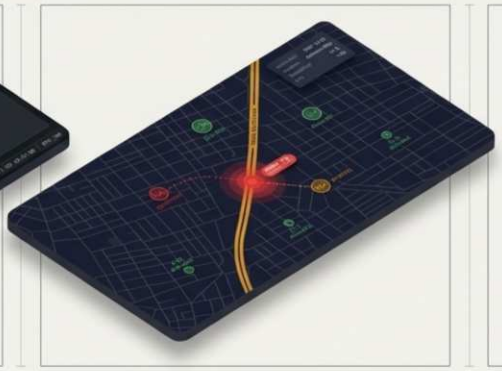

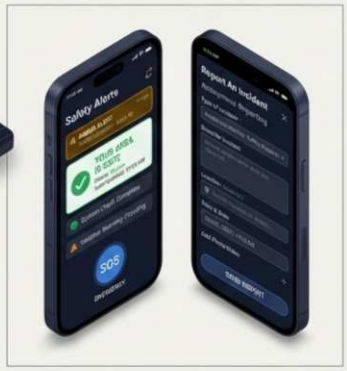

Module 01: Live Feed Video

Aggregate CCTV, body-worn, drone, and traffic cameras. AI object detection on top of any feed.

Module 02: NG911 Dispatch

Multi-channel call intake. From call to deployment in under 60 seconds with live GIS auto-recommendations.

Module 07: Public Citizens

Safety starts with the community. SOS buttons, anonymous reporting, and two-way dispatch communication.

NotebookLM

K-SAFETY — LIVE GIS & DISPATCH OPERATIONS

FIGURE 5 — MODULE-TO-CATEGORY MAPPING

MODULE	INDUSTRY CATEGORY	STANDARDS	FUNCTION
K-Video	VMS / Analytics	ONVIF S/T/M/G, RTSP	All cameras + AI in one searchable view
K-Safety	PSIM / GIS	NIEM, REST API	Live operational map — incidents, units, feeds
K-Dispatch	CAD / NG911	NENA i3, SIP	Call intake to dispatch in seconds
K-Traffic	Traffic Mgmt	NTCIP, REST API	Signals, sensors, enforcement on one map
K-Connect	Secure Video Share	OAuth 2.0, WebRTC	Controlled public-private video sharing

> *Agencies that consolidate detection, coordination, and response into one environment don't just operate faster — they operate with a level of shared situational awareness that fragmented systems structurally cannot deliver.*
>
> — KABATONE · THE END OF SILOED RESPONSE, 2026

40+	70M+	40%	60%
CITIES	CITIZENS PROTECTED	FASTER RESPONSE	FASTER RESOLUTION

KABATONE ARCHITECTURE — THE UNIFIED OPERATIONS HUB

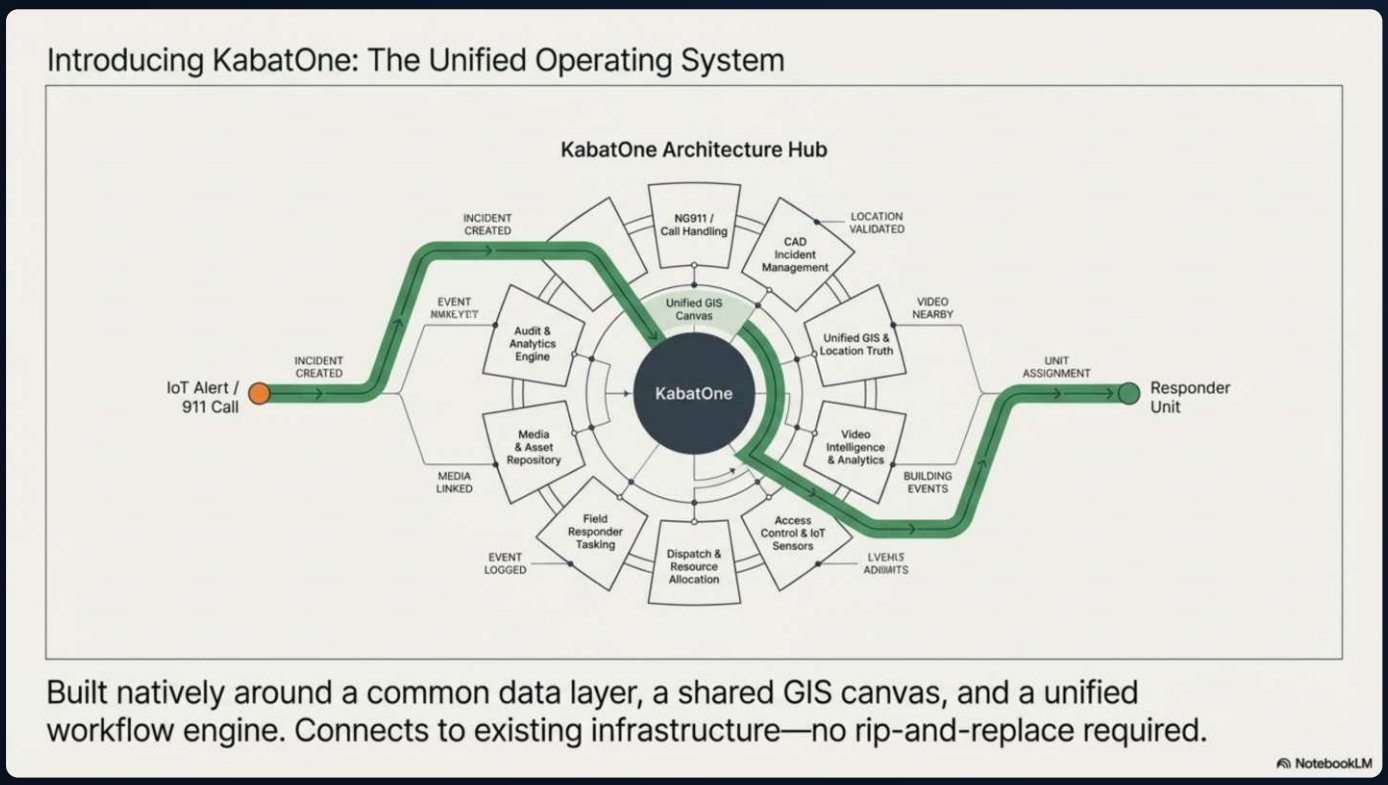

SOURCE: KABATONE RESEARCH · THE END OF SILOED RESPONSE · 2026

LATAM AT THE INFLECTION POINT

Latin America is not behind the curve. In several cases, it is ahead of it. The region's investment in command-and-control infrastructure has produced some of the most sophisticated public safety environments in the world.

08

REGIONAL DEPLOYMENT MODELS — LATAM VS. NORTH AMERICA

Regional Architectures

Adapting the deployment model to distinct geographic topologies.

	NORTH AMERICA	LATIN AMERICA
TOPOLOGY	Highly distributed PSAPs (thousands of centers).	Centralized C5/C4 models (e.g., Mexico's 31 federalized PSAPs) and National systems (ECU 911).
REGULATORY DRIVERS	FCC regulations, CJIS security compliance, CRTC mandates (Canada).	National Data Laws (LGPD, Ley General).
OPERATIONAL NEED	NG911 ESInet transitions and multi-agency CAD-to-CAD interoperability.	City-scale common operating pictures integrating massive video networks (83,000+ cameras) with emergency intake.

NotebookLM

SOURCE: KABATONE RESEARCH · THE END OF SILOED RESPONSE · 2026

FIGURE 6 — KEY DEPLOYMENTS ACROSS LATIN AMERICA

C5I CDMX
CIUDAD DE MÉXICO — KABATONE DEPLOYED

Cameras connected	83,000+
Population served	22M
Integration model	C5/C4 Multi-agency

KABATONE DEPLOYED

ECU 911
ECUADOR — NATIONAL UNIFIED MODEL

Command centers	17
Cameras nationwide	7,000+
Integration model	Unified national 911

NATIONAL SCALE

LÍNEA 123
BOGOTÁ — MULTIMODAL 911

Contact channels	Voice + Video + WhatsApp
Population served	11M
Innovation	Digital-first intake

MULTIMODAL

COR RIO
RIO DE JANEIRO — CITY OPERATIONS CENTER

Data sources integrated	Video + Weather + Traffic
Population served	13M
Achievement	City-scale COP

CITY SCALE

The pattern across these deployments is consistent: the agencies that have invested in unified command infrastructure have demonstrably better response coordination, clearer audit trails, and stronger inter-agency collaboration than those operating from fragmented systems.

MEXICO — NATIONAL TOPOLOGY

*Mexico's public safety infrastructure includes **31 Public Safety Answering Points (PSAPs)** and **164 sub-centers** organized around the C5/C4 model — Centros de Control, Comando, Comunicación, Cómputo y Coordinación. KabatOne operates within this ecosystem at C5i Ciudad de México, C4 Monterrey, Guardia Nacional, SSP Michoacán, SSP Jalisco, and SSC CDMX.*

Latin America is not at the beginning of this transition. It is in the middle of it. The agencies that define their technology strategy now will determine whether they lead or follow.

BUILDING THE BUSINESS CASE

A budget decision, a procurement decision, and often a political decision. This chapter provides the framework to address each dimension with quantified arguments.

09

FIGURE 7 — DOCUMENTED PERFORMANCE IMPROVEMENTS

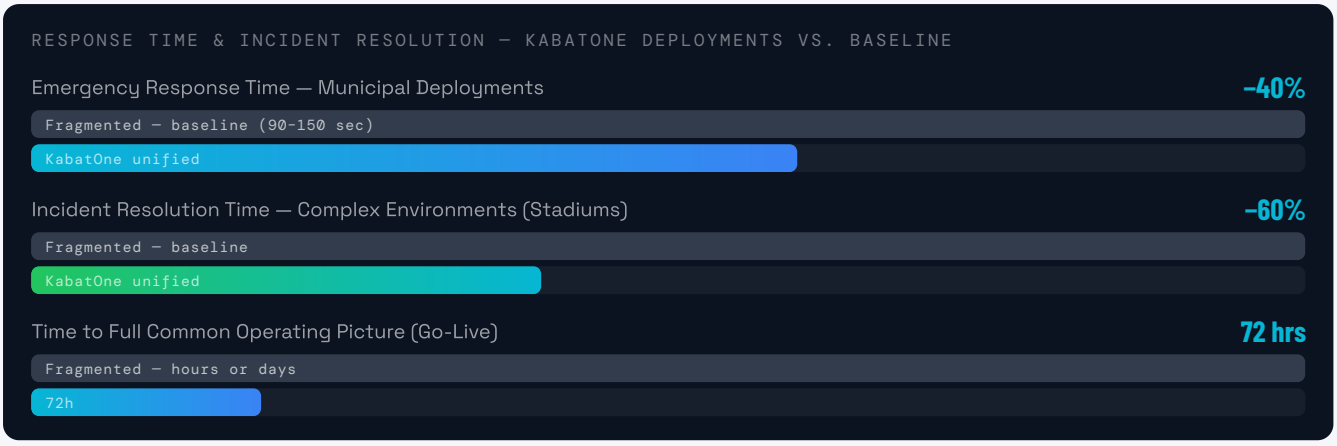

FIGURE 8 — FRAGMENTED VS. UNIFIED: BEFORE AND AFTER

FRAGMENTED		UNIFIED	
Operator interfaces	4+	Operator interfaces	1 canvas
Call-to-dispatch	90–150 sec	Call-to-dispatch	-40%
Audit trail	Manual correlation	Audit trail	Automatic
Time to COP	Hours or days	Time to COP	72 hours
Compliance	Variable	Compliance	NIEM / NG911 native

THE TRUE COST OF FRAGMENTATION

The business case for unification is often framed around the cost of the new platform. The more accurate frame is the total cost of the status quo: multiple vendor contracts with annual maintenance fees, multiple operator training programs, custom integration development, incident reconstruction costs, compliance remediation, and IT overhead. When aggregated over a five-year horizon, the economic case for unification is typically compelling. Fragmentation costs are invisible as a category — even when they are large in aggregate.

PROVEN IMPACT AT SCALE — PERFORMANCE DATA FROM LIVE DEPLOYMENTS

Proven Impact at Scale

40+	70M+	40%	60%
Cities Deployed	Citizens Protected	Faster Response Times	Faster Incident Resolution

Operational at C5i Ciudad de México (managing 83,000+ connected cameras), ECU 911, and C4 Monterrey.

> *"KabatOne replaced four separate systems overnight. Our dispatchers had a full common operating picture within 72 hours of go-live. It wasn't an upgrade — it was a different category of tool."*
>
> **— Chief of Operations, Major U.S. Metropolitan Police Department**

NotebookLM

SOURCE: KABATONE RESEARCH · THE END OF SILOED RESPONSE · 2026

QUESTIONS TO ASK ANY PLATFORM VENDOR

Not all platforms marketed as unified are genuinely integrated. These ten questions are designed to separate real unification from aggregation before a procurement decision is made.

10

REDEFINING THE PROCUREMENT STANDARD — FOUR TESTS EVERY PLATFORM MUST PASS

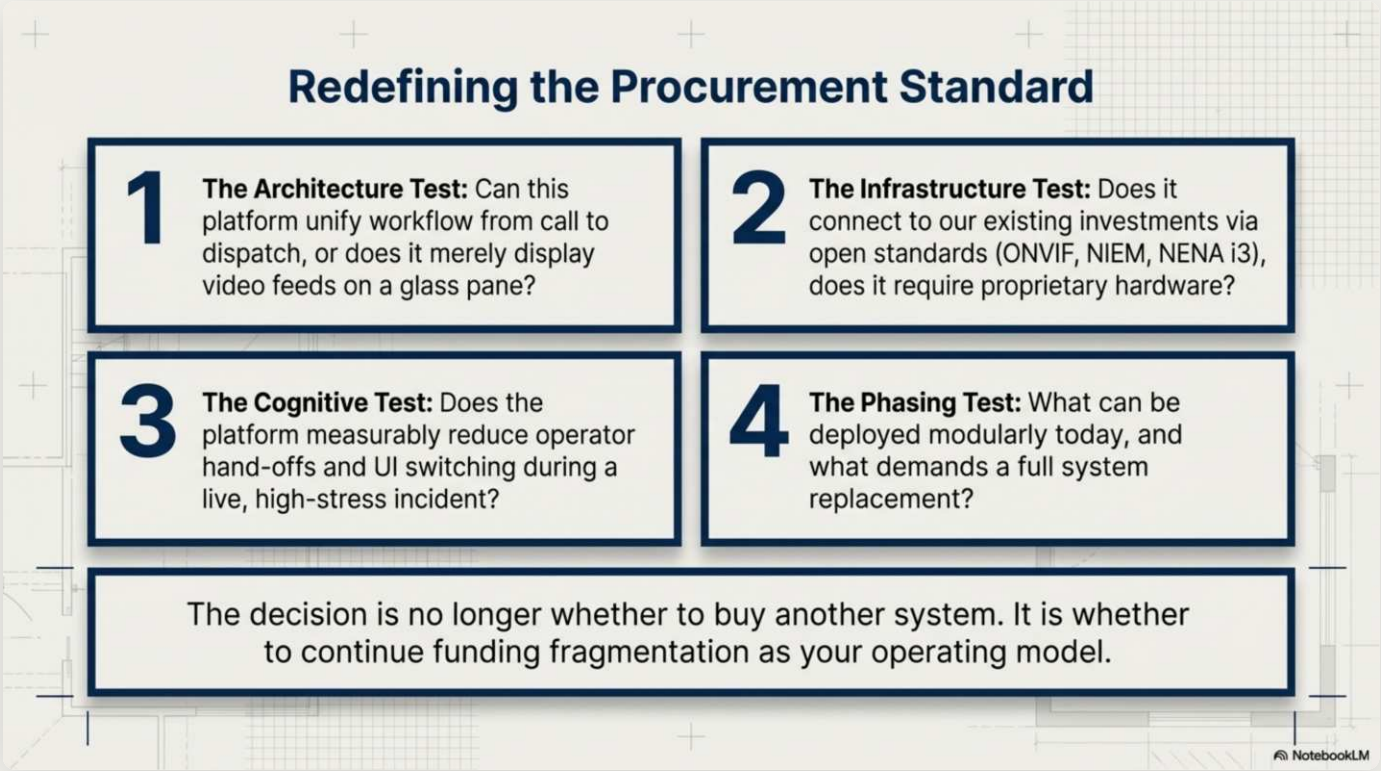

SOURCE: KABATONE RESEARCH · THE END OF SILOED RESPONSE · 2026

Use these questions in any vendor evaluation session. The answers will reveal whether the platform is genuinely unified — or a better-designed aggregation layer.

01 **Camera integration:** Does the platform connect to cameras from any manufacturer via ONVIF — without requiring proprietary hardware or an additional VMS license per ecosystem?

02 **CAD integration:** Is the dispatch module integrated natively, or does the platform require a separate third-party CAD system to function?

03 **GIS capability:** Is the GIS layer operational — dispatch-ready, with real-time unit positioning — or only informational (map display without workflow integration)?

04 **Implementation timeline:** What is your documented go-live timeline for a command center of our scale? Can you provide references from comparable deployments?

05 **Multi-agency experience:** Have you deployed in environments where multiple agencies share a single common operating picture?

06 **NG911 compliance:** How does the platform handle Phase II — text-to-911, video-to-911, and structured data alongside voice call intake?

07 **Data standards:** What is the data export format? Does it support NIEM for multi-agency and federal data sharing?

08 **Existing infrastructure:** Can we connect our existing cameras, radios, and legacy systems — or does integration require replacing equipment?

09 **Post-go-live support:** What does your ongoing support model look like for government clients — SLA, escalation path, local presence?

10 **Data portability:** If we transition to a different platform in the future, how do we export our incident and operational data?

HOW KABATONE ANSWERS

KabatOne satisfies all ten criteria natively: ONVIF camera integration, K-Dispatch native CAD, operational GIS in K-Safety, 72-hour go-live track record, multi-agency C5/C4 deployments, NENA i3 NG911 compliance, NIEM data export, open architecture preserving existing infrastructure, government-grade SLA, and full data portability. We encourage you to ask these questions to every vendor you evaluate.

CONCLUSION

THE AGENCIES THAT ACT NOW

The convergence happening in the public safety technology market is not speculative. It is documented in acquisition records, standards bodies, market data, and operational deployments across Latin America and North America.

The vendors that will dominate the category in five years are assembling the unified stack today — through M&A, through standards adoption, and through deployment experience that only comes from operating at scale in complex environments.

For government agencies, the strategic question is not whether unified response platforms will become the operational standard. **They already are.** The question is how quickly each agency gets there, and on whose terms.

Agencies that define their technology strategy now will have the advantage of choosing a platform that fits their environment, their existing systems, and their operational requirements. Agencies that wait will face a market where their choices are increasingly shaped by global vendors whose primary design context is not LATAM — and whose integration models assume replacement, not connection.

The industry is converging. The standards are in place. The deployments are proven.
The next step is yours.

NEXT STEP

Unified Response Architecture Review

Map your current infrastructure against the unified response stack. Identify integration gaps, sequencing options, and a practical path to unified operations — without replacing what already works.

Available for agencies, municipalities, and command-center operators across LATAM and North America.

kabatone.com

ABOUT

KABATONE

KabatOne is a unified operations and public safety platform connecting video, sensors, GIS, dispatch, AI analytics, field response, and third-party systems into a single operational environment. With deployments across more than 40 cities protecting more than 70 million citizens, KabatOne operates in some of the most complex command and public safety environments in North America and Latin America.

DEPLOYED CLIENTS

- C5i Ciudad de México
- Guardia Nacional
- SSP Michoacán
- SSP Jalisco
- SSC CDMX
- C4 Monterrey

PLATFORM MODULES

- K-Video — Surveillance & Analytics
- K-Safety — GIS & Incident Management
- K-Dispatch — CAD & NG911
- K-Traffic — Traffic Management
- K-Connect — Secure Video Sharing

© 2026 KabatOne · Cresskill, NJ

MARKET SIZE & FORECASTS

1. Video Surveillance Market Size Report
Grand View Research, 2023
grandviewresearch.com/industry-analysis/video-surveillance-market

2. Video Surveillance & VSaaS Market Report
MarketsandMarkets
marketsandmarkets.com/Market-Reports/video-surveillance-market-645.html

3. Access Control Market Report
Fortune Business Insights
fortunebusinessinsights.com/access-control-market-102594

4. Public Safety & Security Market
MarketsandMarkets
marketsandmarkets.com/Market-Reports/public-safety-security-market-163.html

5. NG911 Market Overview
Frost & Sullivan
store.frost.com/next-generation-9-1-1-ng911-market.html

6. Esri Public Safety GIS Overview
Esri
esri.com/en-us/industries/public-safety/overview

ECOSYSTEM CONSOLIDATION & M&A

7. Motorola Solutions Acquires Avigilon
Motorola Solutions Press Release, Feb. 2018
newsroom.motorolasolutions.com

8. Motorola Solutions Acquires Openpath
Motorola Solutions Press Release, Jul. 2021
newsroom.motorolasolutions.com

9. Motorola Solutions Acquires WatchGuard
Motorola Solutions Press Release, Jul. 2019
newsroom.motorolasolutions.com

10. Motorola Solutions Annual Report (Form 10-K)
Motorola Solutions Investor Relations
investors.motorolasolutions.com/financials/sec-filings

11. Axon Acquires Fusus
Axon Press Release, 2024
investor.axon.com/press-releases

12. Axon Strategic Investment in Carbyne
Axon Investor Relations
investor.axon.com/news

13. Axon Acquires Prepared
Axon Press Release
investor.axon.com/press-releases

14. Axon Form 10-K
Axon Investor Relations
investor.axon.com/financials/sec-filings

15. Hexagon Acquires Intergraph
Hexagon Newsroom
hexagon.com/company/newsroom/press-releases

16. Hexagon Safety & Infrastructure
Hexagon Investor Relations
investors.hexagon.com

17. Genetec Unified Security Platform Overview
Genetec
genetec.com/products/security-center

NG911 & EMERGENCY COMMUNICATIONS

18. National 911 Program — NG911 Overview
U.S. Department of Transportation
911.gov/project/ng911/

19. FCC NG911 Reports
Federal Communications Commission
fcc.gov/general/9-1-1-and-e9-1-1-services

LATAM MARKET DATA

20. Brazil Public Security Investment Reports
Brazilian Ministry of Justice
gov.br/mj

21. Mexico Public Security Budget Reports
Government of Mexico
gob.mx

22. IDB Digital Government & Public Safety Reports
Inter-American Development Bank
iadb.org/en

REAL-TIME CRIME CENTERS & FUSION

23. Major Cities Chiefs Association — RTCC Resources
Major Cities Chiefs Association
majorcitieschiefs.com/resources

24. PERF Real-Time Crime Center Reports
Police Executive Research Forum
policeforum.org